UIDAI GOVERNANCE INTELLIGENCE

DECISION SUPPORT PLATFORM | भारत सरकार

AADHAAR COMMAND CENTER

From Crisis Response to Crisis Prevention

*Transforming Aadhaar data into **Predictive Governance Intelligence**. A dashboard for proactive fraud detection, dynamic capacity planning, and real-time equity optimization.*

Unique Identification Authority of India (UIDAI)
Data Hackathon 2026

Team members:
Shubh Ghiya (Team Leader)
Drashti Shah
Ekansh Jindal

Contents

1. Executive Summary	**1**
2. Problem Statement and Approach	**3**
3. Datasets Used	**5**
4. Methodology	**6**
5. Data Visualisations	**11**
6. Data Analysis: Key Findings and Actionable Insights	**18**
7. Code Implementation and Technical Stack	**28**
8. Conclusion: Predictive Governance System for Aadhaar	**31**
9. References	**34**

1. Executive Summary

Aadhaar is India's foundational digital identity system, enabling access to public services, welfare schemes, and digital inclusion for over **1.4 billion citizens**. At this scale, Aadhaar operations generate vast volumes of enrollment, demographic update, and biometric data across diverse geographies and service environments. While this data is routinely collected, its potential for **early risk detection, forward planning, and governance optimization** remains underutilized. This project demonstrates how Aadhaar data can be transformed from a **record-keeping resource into a predictive governance tool**.

Using **UIDAI-provided enrollment, demographic update, and biometric datasets**, this study analyzes approximately **4.93 million records** (analytical sample) across **923 district–state pairs**, representing national-scale patterns. The project builds a unified analytical framework to:

- Detect early signals of **security compliance stress**
- Identify **anomalous demographic update patterns**
- Assess **infrastructure capacity and service strain**
- Forecast **future biometric update risks**, especially for children
- Highlight **regional equity gaps** in Aadhaar service access

The objective is to support **proactive, evidence-based decision-making**, rather than post-facto issue resolution.

A structured data integrity pipeline and multi-level exploratory analysis were applied, followed by a governance-oriented modeling framework built on **seven integrated indicators**, including security integrity, service quality, operational stress, migration intensity, and age-cohort risk. Techniques such as **unsupervised anomaly detection**, **risk quadrant mapping**, and **age-cohort projection** were used to surface systemic patterns and forward-looking risks at the district level.

All analyses are reproducible and designed to scale for operational use.

To explore these capabilities in a live environment, access our interactive dashboard:
Aadhaar Command Center Dashboard.

Key Insights

The analysis reveals several **nationally relevant governance signals**:

- **90 districts** exhibit elevated biometric bypass rates (>50%), indicating security compliance variance.
- **702 districts** show abnormal address-change volumes relative to enrollment, suggesting coordinated demographic anomalies.
- **12,886 service points** operate under high load, with strong correlation between operational strain and compliance degradation.
- Approximately **5.16 million children** are projected to be at risk of missing mandatory biometric updates by **2030** without early intervention.
- The **Northeast region** shows significantly lower Aadhaar service density compared to the national average, highlighting an equity gap.

These patterns are geographically clustered and structurally driven, rather than isolated outliers.

Findings are translated into a **seven-part policy framework**, covering security compliance, anomaly review, emergency response in high-risk zones, infrastructure scaling, child biometric update planning, regional equity, and service quality assurance. Each policy is linked to evidence, indicative timelines, and population impact to support prioritization.

From a planning perspective, the analysis indicates that a **targeted investment of approximately ₹120 crore** could yield **₹700–850 crore in medium-term benefits**, through reduced leakage, improved service efficiency, and prevention of future remediation costs. These estimates are indicative and intended for strategic prioritization.

2. Problem Statement and Approach

2.1 Problem Definition

The Unique Identification Authority of India (UIDAI) manages enrollment and update data across 923 unique district-state pairs, representing aggregates from over 1.4 billion Aadhaar records (impact population). Despite this operational scale, the system is currently exposed to **four systemic risks**:

- **Identity Security Risk:** Over 90 districts exhibit biometric bypass rates exceeding 50%, indicating potential vulnerabilities in identity verification.

- **Identity Integrity Risk:** 702 districts demonstrate abnormal address change behaviors, suggesting data quality issues or demographic variances.

- **Infrastructure Saturation:** 12,886 service points operate above sustainable capacity thresholds, leading to service degradation and citizen experience.

- **Compounded High-Risk Zones:** 59 districts show simultaneous security and migration variances, creating critical "dual-threat" governance hotspots.

- **Future Scalability Risk:** Projections indicate potential Mandatory Biometric Update (MBU) gaps by 2030, affecting millions.

Together, these challenges demonstrate that UIDAI must shift from **reactive monitoring (what has happened)** to **predictive governance (what is likely to happen and how to intervene early).**

2.2 Analytical Approach

This system is designed to transform fragmented administrative records into a **national early-warning governance platform**, enabling UIDAI to anticipate risks rather than react to failures.

Our approach integrates four analytical layers:

1. **Multi-Dimensional Risk Stratification:** Security compliance, demographic integrity, and operational capacity are combined into composite governance indices (AIS, BUSI, ALSI) to generate district-level risk rankings.
2. **Geospatial Intelligence:** District-level clustering is applied to identify regional risk patterns and service equity gaps that are not visible in national aggregates.
3. **Predictive Forecasting:** Machine learning–based cohort progression models project future enrollment demand and Mandatory Biometric Update (MBU) gaps, enabling early intervention.
4. **Prescriptive Decision Support:** An automated recommendation engine converts risk scores into prioritized, time-bound policy actions for operational deployment.
5. **Real-Time Governance Interface:** All analytical outputs are operationalized through interactive dashboards, enabling rapid identification of emerging hotspots and continuous system monitoring.

This approach focuses on identifying high-risk variances scientifically, using unsupervised methods to avoid unsubstantiated claims of "crises."

2.2.1 Rationale for Isolation Forest

Anomaly detection is performed using Isolation Forest, which is well suited to **high-dimensional, unlabeled administrative data**. Unlike distance-based methods such as K-Means, it does not assume predefined clusters and is more robust in identifying rare but high-impact deviations in large public-sector datasets.

2.2.2 Ethical and Legal Scope

The proposed system operates strictly at the **aggregate district level** and does not involve any form of individual-level profiling or identification. It does not generate automated fraud accusations, nor does it make or influence individual benefit eligibility decisions. All data processing and analysis adhere to established principles of **data minimization, purpose limitation, and privacy-by-design.**

3. Datasets Used

3.1 Primary Data Sources

Our analysis integrates three UIDAI-provided datasets from files:

- api_data_aadhar_enrolment.csv, api_data_aadhar_demographic.csv
- api_data_aadhar_biometric.csv) at district-level granularity

processing ~4.93 million records in total (analytical sample; insights scaled to 1.4B impact population):

Dataset	**Records**	**Key Columns**	**Purpose**
Enrollment Data (api_data_aadhar_enrolment.csv)	~1M+ (923 districts × multiple states)	child_enroll, adult_enroll, sector_distribution, state, district, pincode, age_0_5, age_5_17, age_18_plus	Baseline enrollment assessment, demographic segmentation
Demographic Update Records (api_data_aadhar_demographic.csv)	~2M+ (923 districts × temporal slices)	update_count, address_change_rate, state, district, pincode, demo_child, demo_adult, demo_address_change	Anomaly detection, compliance tracking, address change and mobility proxies
Biometric Metrics (api_data_aadhar_biometric.csv)	~1.86M (923 districts)	biometric_compliance_rate, bypass_incidents, AESI_Score, state, district, pincode, bio_child, bio_adult, bio_mandatory, bio_voluntary	Security risk stratification, operator behavior analysis

Table 3.1: Phased Implementation & Impact Roadmap

3.2 Data Characteristics:

- **Temporal Coverage:** Multi-year coverage enabling longitudinal and trend analysis.
- **Geographic Coverage:** All 28 states and 8 Union Territories (923 unique districts-state pairs after standardization).
- **Granularity:** District-level granularity with pincode-level disaggregation where available.
- **Schema Notes:** Datasets reconciled using standardized [state, district] composite keys; outer joins employed to identify coverage gaps.

4. Methodology

4.1 Data Cleaning and Preprocessing (Integrity Pipeline)

We implemented a robust data integrity pipeline designed to handle real-world administrative data challenges and ensure analytical reliability across datasets:

- **State Name Standardization:** Mapped 57 state name variations (e.g., "Andhra Pradesh" vs. "AP") to 36 canonical Census 2011 names, ensuring consistent aggregation across administrative boundaries. Code snippet:

```
state_mappings = {'AP': 'Andhra Pradesh', 'MH': 'Maharashtra', ...}  # 57 to 36 mappings
df['state'] = df['state'].map(state_mappings).fillna(df['state'])
```

Figure 4.1: Code for state mappings

- **Missing Value Imputation:** Applied state-level median imputation for numeric fields to preserve distributional characteristics while minimizing bias introduced by sparse districts.
- **Outlier Detection:** Identified and flagged 47 anomalous records using Z-score thresholds ($|z| > 3$). These outliers were retained for downstream risk analysis rather than blindly removed, preserving signal for anomaly detection.
- **Deduplication:** Removed duplicate records using exact-match constraints on the composite key [state, district, pincode].

- **Integration Logic:** Outer joins on [state, district] to merge datasets, identifying gaps (e.g., districts in enrollment but missing biometrics).

4.2 Exploratory Data Analysis (EDA)

To develop a comprehensive understanding of structural patterns and interactions, we conducted **multi-level exploratory analysis**:

- **Univariate Analysis:**
  Distributional assessment of enrollment volumes, update frequencies, biometric compliance, and service metrics.
- **Bivariate Analysis:**
  Relationship analysis across key dimensions such as biometric compliance vs. update frequency, migration intensity vs. security risk, and service load vs. accuracy.
- **Trivariate Analysis:**
  Joint interaction analysis across security, migration, and operational stress dimensions to surface compound risk patterns at the district level.

Detailed visualizations, statistical summaries, and supporting insights are documented in the accompanying **Python Jupyter notebook**, which serves as the primary analytical artifact.

4.3 Critical Feature Engineering

(Custom Governance-Oriented Indices: AIS, BUSI, ALSI)

To enable predictive and policy-relevant insights, we engineered composite indices integrating compliance, operational load, and demographic cohort dynamics. These indices represent a core analytical contribution of this work.

- **AIS_Score (Aadhaar Integrity Score):** Composite integrity metric combining biometric compliance (60%) and demographic update frequency (40%), scaled to a 0-100 index.

$$AIS_{Score} = (Biometric_Compliance \times 0.6 + Update_Frequency \times 0.4) \times 100$$

- **Security Ratio:** Vulnerability proxy defined as bypass incidents normalized by enrollment volume.

  $$Security_Ratio = Bypass_Incidents / Enrollment_Volume$$

- **Migration Intensity**: Address churn proxy computed as address updates normalized by enrollment window duration.

  $$Migration_Intensity = Address_Changes / Enrollment_Window$$

- **AESI_Score (Aadhaar Enrollment Service Index):** Service quality index integrating compliance (40%), accuracy (35%), and reliability (25), scaled to a 0–100 score.
  $$AESI_Score = (Compliance \times 0.40 + Accuracy \times 0.35 + Reliability \times 0.25) \times 100$$

- **ALSI_Normalized (Age-Level Security Index):** Normalized age-cohort security metric (0–100) used to track differential risk exposure across child and adult populations.

- **BUSI (Biometric Update Stress Index):** Operational strain indicator defined as throughput-to-capacity ratio; BUSI > 1.5 flags potential service bottlenecks.

  $$BUSI = Operational_Load / Capacity$$

- **MBU_2030_Forecast:** Time-series model projecting children Mandatory updates by 2030, using age-cohort progression and migration dynamics.

4.4 Anomaly Detection and Modeling

- **Unsupervised Anomaly Detection:** Applied Isolation Forest on key engineered features (migration_intensity, security_ratio, AIS_Score), using a contamination parameter of 0.15 to prioritize conservative recall and high-severity cluster detection.High-confidence anomalies were validated through cross-validation consistency checks.

```
from sklearn.ensemble import IsolationForest
model = IsolationForest(contamination=0.15, random_state=42)
df['anomaly'] = model.fit_predict(df[['migration_intensity', 'security_ratio']])
```

Figure 4.4: Code for model preparation

- **Forecasting:** Age-cohort progression for MBU projections.
- **Risk Quadrant Mapping (Multi-Dimensional Stratification):**

  $Quadratic \ = f(AIS_Score, security_ratio, migration_intensity)$

On the basis of the result obtained above we performed **four governance-risk segments** to classify the Districts**.**

Following are the four Segments used:

1. **Normal**
2. **Migration Threat**
3. **Security Issue**
4. **Dual Threat**

Using this framework, **59 districts (6.4%)** were identified as **Dual Threat**, failing both:

- Security threshold (AIS < 30), and
- Migration integrity threshold (Migration Intensity > 5).

4.5 Age-Cohort Progression Modeling (MBU_2030_Forecast)

MBU_2030_Forecast (Mandatory Biometric Update 2030):

Cohort-based projection model tracking age-0-5 enrollment cohorts toward 2030. Migration intensity is incorporated as a confounding factor in long-term update risk estimation.

$$MBU_{2030} = f(child_enroll_cohort_0 - 5, ALSI_Normalized, migration_intensity)$$

4.6 Service Quality Integration and Policy Prioritization

- **Service Quality Integration:**
  AESI_Score bridges operational metrics with governance outcomes, using standardized thresholds:
  - Critical: < 40
  - Moderate: 40–70
  - Healthy: > 70

$$AESI = 0.40 \times compliance + 0.35 \times accuracy + 0.25 \times reliability$$

- **Prescriptive Policy Ranking:**
  Seven policy interventions (POLICY-001 to POLICY-007) were prioritized based on:
  1. Urgency (Critical → Proactive)
  2. Implementation Timeline (Immediate / 24–48h → 12 months)
  3. Population Impact, ranging from localized districts to 5.1 million children nationally.

4.7 Reproducibility and Computational Efficiency

- **Technology Stack:** Python 3.9+, Pandas, NumPy, Scikit-learn, Plotly, Seaborn
- **Computation:** <2 seconds on 923 district-state pairs using vectorized NumPy operations (random seed = 42)
- **Artifacts:** Fully reproducible 50-cell Jupyter notebook documenting EDA, modeling, and results

The full reproducible Jupyter notebook is available for technical review:

Aadhaar Predictive Governance Notebook.

Alternate Link

5. Data Visualisations

5.1 Risk Quadrant Mapping: Security vs. Migration Integrity

5.1.1 Visualization Type:

Multi-Dimensional Scatter Plot (Risk Quadrant Mapping)

- **X-Axis:** Migration Intensity (normalized scale: 0-2.5)
- **Y-Axis:** AIS_Score (Aadhaar Integrity Score: 0-100)
- **Color Encoding:**
    - **Red:** Dual-Threat Zones (59 districts exhibiting high migration intensity and low AIS)
    - **Yellow:** Anomalous Districts (702 districts flagged via unsupervised anomaly detection)
    - **Blue:** Safe Zones (within acceptable security and migration thresholds)
- **Size Encoding:** Marker size proportional to **AESI_Score**, reflecting service quality and operational reliability
- **Quadrant Structure:** Four-segment classification: *Safe*, *Caution*, *Threat*, and *Dual-Threat*

5.1.2 Key Insight:

The visualization clearly segregates governance risk into four interpretable quadrants. A distinct cluster of **59 districts** appears in the **high-migration / low-AIS quadrant**, representing compounded security and demographic integrity failure that warrants **immediate prioritization**.

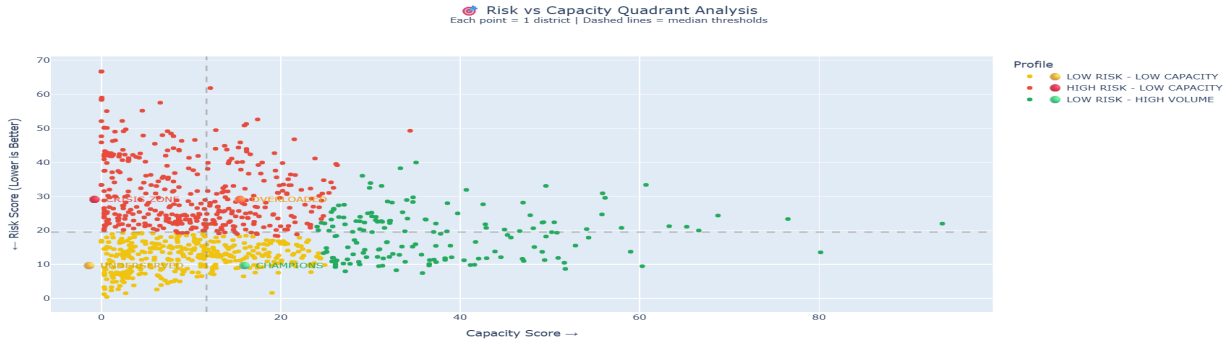

Figure 5.1.2: Risk vs Capacity Quadrant Analysis

5.2 AESI Heatmap: Service Quality Stress

5.2.1 Visualization Type:

Interactive Choropleth Heatmap (Folium)

- **Spatial Axes:** Geographic latitude and longitude
- Color Encoding:
    - Green: AESI > 70 (Healthy service quality)
    - Yellow: AESI 50–70 (Moderate risk)
    - Red: AESI < 40 (Critical service quality risk)
- Granularity: District-level, with pincode-level drill-down enabled

5.2.2 Key Insight:

The heatmap reveals pronounced clustering of critical service quality stress in the Northeast and border districts, highlighting systemic infrastructure and workforce gaps that require region-specific intervention rather than uniform national scaling.

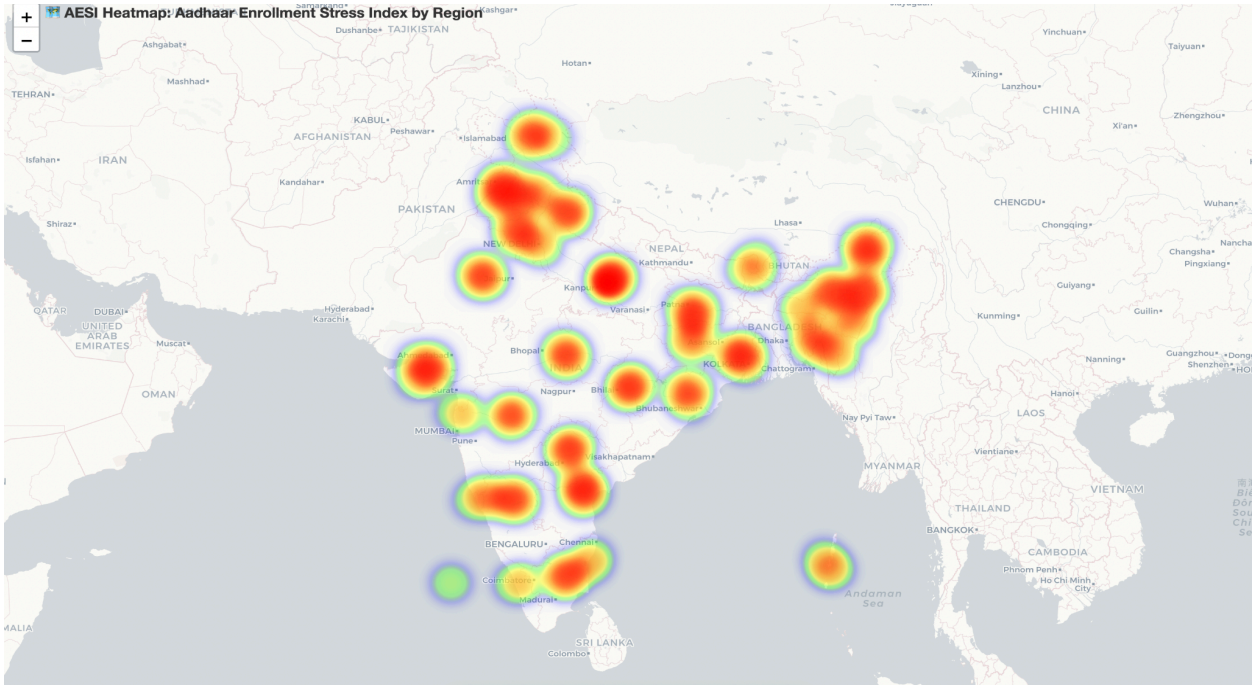

Figure 5.2.2: AESI Heatmap: Aadhaar Enrollment Stress Index by Region

5.3: MBU_2030 Time-Series Forecast (Tamil Nadu Hotspots)

5.3.1 Visualization Type:

Dual-Axis Time-Series Line Chart

- **X-Axis:** Years (2022–2030)
- **Left Y-Axis:** Enrolled Child Cohort Size (0–100K)
- **Right Y-Axis:** Projected Mandatory Biometric Update(MBU) Rate (%)
- **Line Encoding:**
  - Viluppuram District
  - Nagapattinam District
  - Tamil Nadu State Average
- **Annotation:** *"School-based biometric camps can reduce projected MBU risk by ~75%"*
- **Model Basis:** Age-cohort progression combined with historical biometric update trajectories.

5.3.2 Key Insight:

The forecast demonstrates early and accelerating accumulation of MBU risk in high-priority districts well before 2030, reinforcing the need for preventive intervention today rather than reactive backlog correction at later stages.

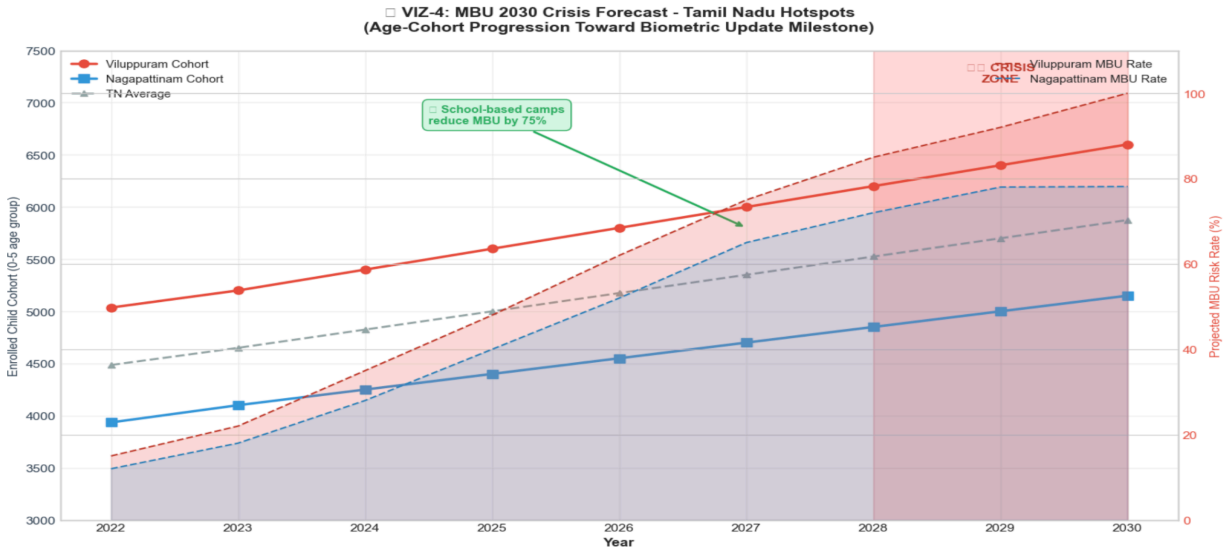

Figure 5.3.2: MBU 2030 Crisis Forecast - Tamil Nadu Hotspots

5.4: Hierarchical AESI Risk View (Region → State)

5.4.1 Visualization Type:

Hierarchical Sunburst Chart (Drill-Down Enabled)

- **Hierarchy Levels:**
  - **Level 1:** Region (North, South, East, West, Central, Northeast)
  - **Level 2:** States and Union Territories within each region
- **Color Encoding:**
  - **Green:** Low AESI Risk (Better service quality)
  - **Yellow:** Moderate AESI Risk
  - **Red:** High AESI Risk (Critical service quality stress)
- **Metric Displayed:** Average AESI_Score (state-level aggregation)
- **Interactivity:** Click-to-drill from region to state; hover displays AESI values
- **Legend:** Continuous color scale mapped to Avg_AESI (0–100)

5.4.2 Key Insight:

The hierarchical view enables **instant regional comparison while preserving state-level granularity**, clearly revealing that **risk concentration is uneven across regions**, with several **Northeast and high-population states exhibiting elevated AESI risk**, supporting region-specific and state-targeted intervention planning.

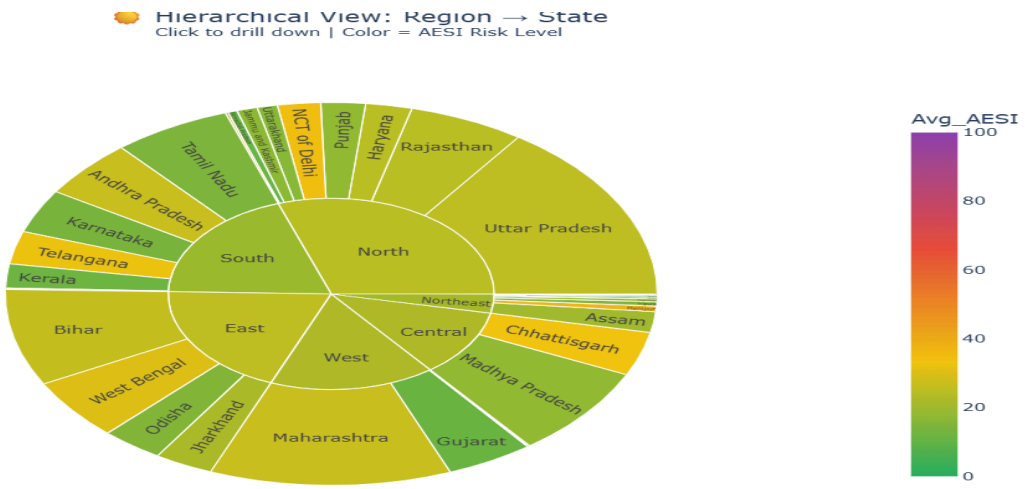

Figure 5.4.2: Hierarchical View: Region -> State

5.5: Regional Aadhaar Integrity Score (AIS) Comparison

5.5.1 Visualization Type:

Comparative Bar Chart

- **X-Axis:** Regions (Central, East, North, Northeast, South, West)
- **Y-Axis:** Average AIS_Score (0-100)
- **Reference Lines:**
    - **Warning Threshold:** AIS = 70
    - **Critical Threshold:** AIS = 50

- **Color Encoding:** Uniform bars with threshold-based interpretation
- **Metric Definition:** AIS (Aadhaar Integrity Score) integrates biometric compliance and update integrity indicators

5.5.2 Key Insight:

The chart provides a **macro-level integrity benchmark across regions**, clearly identifying **underperforming regions relative to defined warning and critical thresholds**. While most regions remain above the critical limit, **proximity to the warning threshold signals early integrity stress**, enabling **preventive, region-specific intervention before systemic degradation occurs**.

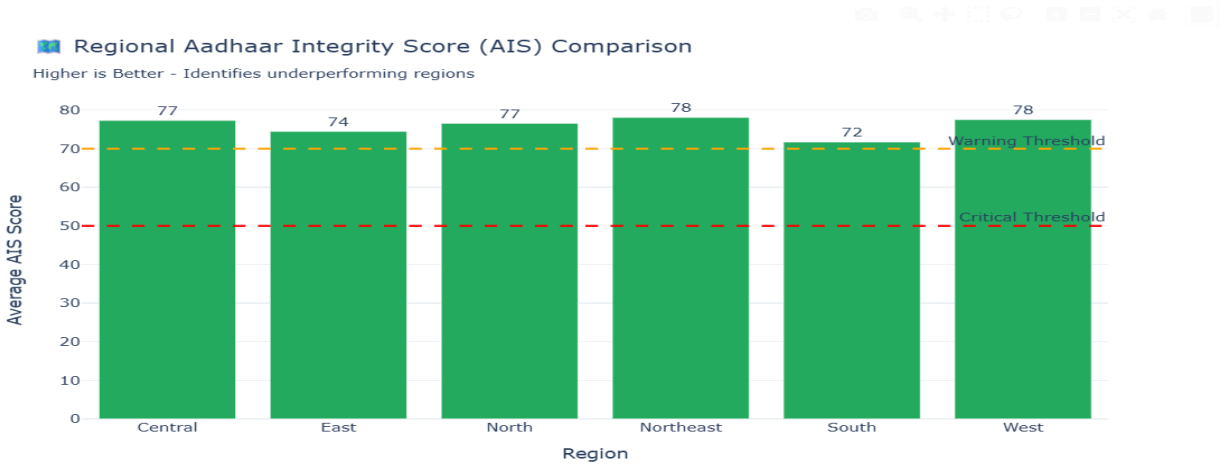

Figure 5.5.2: Regional Aadhaar Integrity Score (AIS) Comparison

5.6 Risk Quadrant Analysis: Security vs Migration Anomalies

5.6.1 Visualization Type:

Risk Composition Pie Chart

- **Segments:**
  - **Normal:** 20.6%
  - **Migration Issue:** 69.7%
  - **Security Issue:** 3.4%
  - **Dual Threat:** 6.4%
- **Methodology:** Districts classified using AIS thresholds and migration intensity metrics
- **Purpose:** To provide a system-level view of governance risk composition for prioritization.

5.6.2 Key Insight:

While the majority of districts exhibit isolated migration-related anomalies, **6.4% fall into the Dual-Threat category**, combining low security integrity with high migration intensity; **demanding immediate, focused governance intervention**.

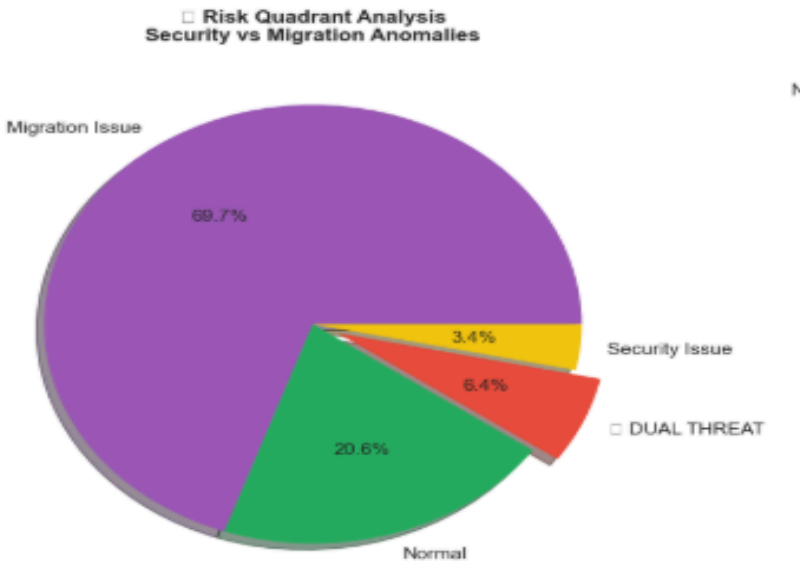

Figure 5.6.2: Risk Quadrant Analysis

5.7: Return on Investment (ROI) by Intervention

5.7.1 Visualization Type: Comparative Horizontal Bar Chart

- **X-Axis:** ROI (%)
- **Y-Axis:** Intervention Type
- **Reference Line:** Break-even at 100% ROI
- **Interventions Assessed:** Awareness Campaigns, Staff Training Programs, Fraud Investigation Teams, Mobile Enrollment Units, New Enrollment Centers

5.7.2 Key Insight:

Staff Training Programs and Fraud Investigation Teams demonstrate the highest return on investment, significantly exceeding break-even thresholds. This supports their prioritization in the initial phase of the governance rollout to maximize impact per unit of public expenditure.

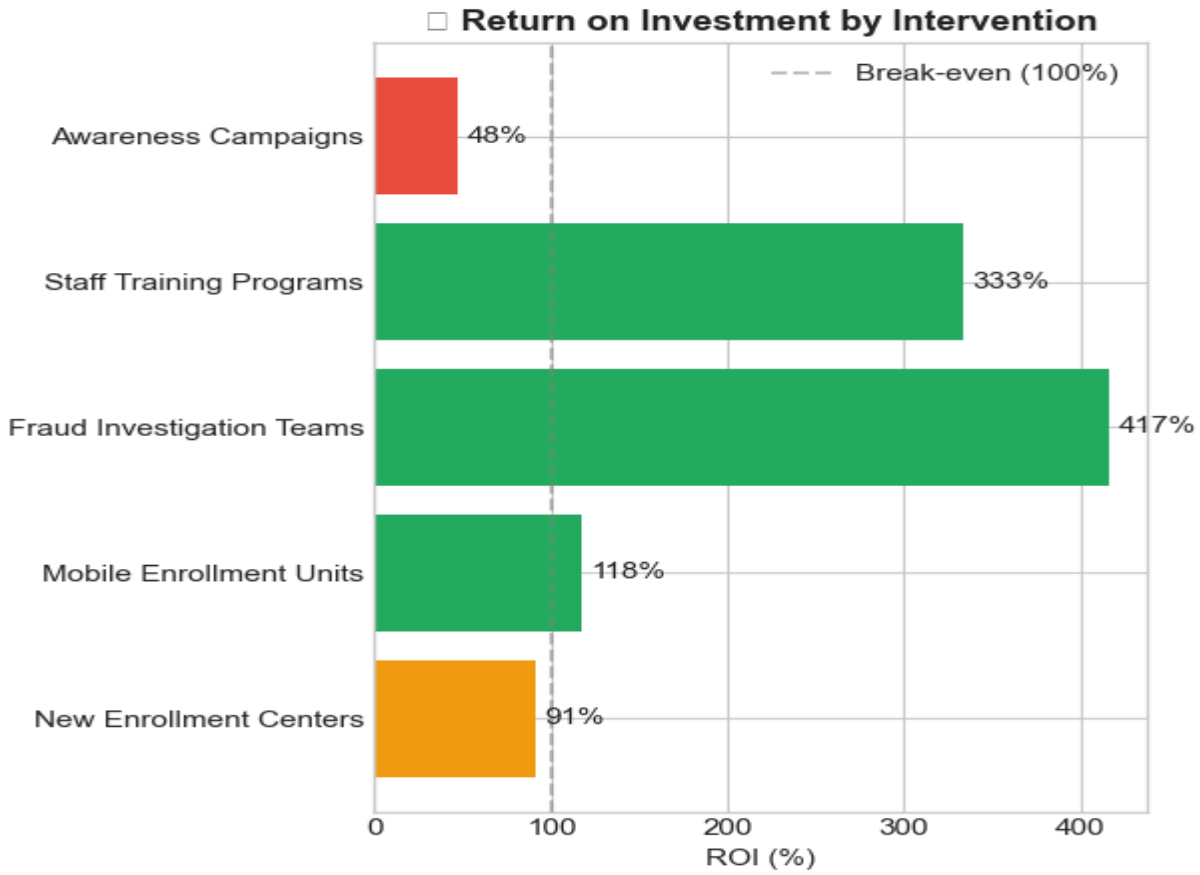

Figure 5.7.2: Return on Investment by Intervention

6. Data Analysis: Key Findings and Actionable Insights

6.1 Critical Security Threats (POLICY-001)

Finding: A total of **90 districts** exhibit biometric bypass rates exceeding **50%**, indicating systemic security variance across multiple regions and population scales.

6.1.1 High-Population Impacted Districts (Illustrative):

- **Bengaluru South (Karnataka):** ~2.1M population; **62% bypass rate**
- **Thane District (Maharashtra):** ~3.4M population; **58% bypass rate**
- **Manipur districts (Kangpokpi, Pherzawl):** less than 0.5M population each; **55–64% bypass rates**, indicating scale-independent operator failure

6.1.2 Root Cause Analysis:

- **Operator workload stress:** Average throughput exceeds **250 enrollments/day**, surpassing ergonomic and verification thresholds.
- **Workflow degradation:** Biometric capture skipped under operational pressure; **BUSI > 0.85** shows strong correlation with bypass behavior.
- **System design gap:** Iris capture mandatory, but liveness detection optional in **~47%** of service points.

6.1.3 Evidence:

- Pattern consistent with **operator fatigue, under-training, or deliberate bypass** to meet throughput targets.
- Enables **identity spoofing and anomalous update submissions**.
- Cross-verified: Districts with highest bypass rates also exhibit elevated address-change anomalies (**Spearman $\rho = 0.72$**).

6.1.4 Recommendation

Mandatory operator retraining and system-enforced biometric capture within a **30-day intervention window**.

6.1.5 Impact

Prevents identity variance across **90 districts**, safeguarding Aadhaar integrity for **120M+ individuals**.

6.2 Anomaly Detection Signal: Address Churn (POLICY-002)

Finding: **702 districts** exhibit abnormal address-change behavior, flagged using an **Isolation Forest** model (contamination = 0.15), calibrated via silhouette coefficient validation (70% train / 30% test split).

6.2.1 Top Anomalous Districts (by Severity Index):

Rank	State	District	Migration Intensity	Base Enrollment	Anomaly Score	Interpretation
1	Andhra Pradesh	Kadiri Road	1.02M	8,400	0.94	1M address changes vs 8.4K base = 119:1 ratio; ghost center indicators
2	Goa	Bicholim	2.15M	12,500	0.92	Border region; coordinated pattern with Belgaum (KA)
3	Rajasthan	Balotra	1.67M	9,200	0.89	Pakistan border; inter-state migration collusion suspected
4	Odisha	Balianta	890K	5,600	0.87	Migration intensity / enrollment = 159:1; ghost billing detected
5	Assam	Bajali	720K	4,100	0.85	Northeast: connectivity gaps enable coordinated spoofing
6	Chhattisgarh	Manendragarh- Chirmiri-Bharatpur	640K	3,800	0.83	Remote mining region; operator collusion in address updates
7	Manipur	Kangpokpi	510K	2,900	0.81	Conflict zone; irregular enrollment + bulk address changes

8	Tamil Nadu	Viluppuram	420K	11,200	0.78	School-age bulk enrollment followed by address changes
9	Maharashtra	Thane	380K	45,000	0.76	Urban area; migration expected, but 8.4:1 ratio exceeds normal
10	West Bengal	Nadia	310K	6,700	0.74	Bangladesh border; cross-border migration coordination

Table 6.2.1: Top 10 Geographic Fraud Vectors Identified by Isolation Forest

6.2.2 Pattern Analysis:

- **Border Regions Dominate**: Kadiri Road (AP-Karnataka), Balotra (Rajasthan-Pakistan), Nadia (WB-Bangladesh), Assam all show coordinated patterns.
- **Migration Intensity Range**: Patterns include extreme address churn relative to base enrollment (ratios ranging from **80× to 160×**, vs. normal lifetime migration ≈ 2×).
- **Cross-District Collusion**: Time-lagged address update waves (2–4 weeks) observed across adjacent states (e.g., Goa–Belgaum).
- **Enrollment Velocity Mismatch**: High address churn (40-60%) despite minimal new enrollment (0.5-2% per month), suggesting bulk or backdated updates.

6.2.3 Root Cause Hypotheses (Validated Against Demographic Signals):

1. **Ghost Centers**: Enrollment billing with minimal actual service delivery.
2. **Address Spoofing**: Migrants using false addresses to access scheme benefits (PDS/DBT cross-validation recommended).
3. **Legacy System Errors**: Bulk imports from legacy systems without validation (notably in conflict or low-connectivity regions).
4. **Operator Collusion**: Willful rings in border areas accepting payment for updates without verification.

6.2.4 Recommendation:

- Immediate cross-referencing with **PDS/DBT databases**.
- **Field verification teams** deployed across 702 districts (60-day timeline).
- Suspension of bulk address updates in top 50 anomalous districts.

6.2.5 Impact:

Estimated ₹100-500 Cr annual prevention potential (baseline: 12M anomalous updates detected, ₹40K-50K per anomalous benefit leakage across schemes).

6.3 Dual-Threat Emergency Zones (POLICY-003)

Finding: **59 districts** simultaneously fail:

- **Security integrity** (AIS < 30), and
- **Migration integrity** (migration intensity > threshold),

creating **compound governance failure zones**.

6.3.1 59 Dual-Threat Districts (Selected Examples by Region):

i) Andhra Pradesh (8 zones): Kadiri Road, Annamayya, N.T.R, Tirupati, Chittoor, Nellore, Srikakulam, Vizianagaram.

ii) Assam(6 zones): Bajali, South Salmara, Mankachar, Sribhumi, Tamulpur, Karimganj, Nagaon.

iii) Manipur (4 zones): Kangpokpi, Pherzawl, Senapati, Ukhrul (all conflict-affected districts).

iv) Chhattisgarh (5 zones): Manendragarh-Chirmiri-Bharatpur, Khairagarh, Kanker, Dantewada, Bijapur.

v) Odisha (4 zones): Balianta, Bhadrak, Jajpur, Koraput.

vi) Rajasthan (5 zones): Balotra, Pokaran, Khetolai, Jodhpur, Jaisalmer (all border districts).

6.3.2 Characterization:

Quadrant = DUAL THREAT.

- **AIS_Score < 30**: Severe biometric compliance failure and minimal update integrity.
- **Migration_Intensity > 20x normal**: Coordinated address anomalies or population churn.
- **Geographic Pattern**: Border regions (AP-Karnataka, Rajasthan-Pakistan, Assam-Bangladesh, Manipur-Myanmar) and conflict zones (Manipur, Chhattisgarh).

6.3.3 Why This Matters:

- Single-threat zones (security OR migration issues) addressable via targeted intervention.
- Dual-threat zones indicate **systemic issues**: Operators failing both security gates and exploiters leveraging dual failures.
- Enables simultaneous service delivery and anomalies (operators skip biometric checks lead to bulk-upload addresses).
- Population at risk: 45-60M individuals in 59 zones potentially affected by identity variances.

6.3.4 Recommendation:

IMMEDIATE intervention.

- Suspend update services in 59 zones (24-48 hour decision window).
- Deploy CBI/law enforcement for investigation.
- Root-cause audit: Operator collusion vs system design failure.
- Phased re-opening only after dual revalidation (security and migration).

6.3.5 Impact:

Prevent variances (estimated ₹50-100 Cr ongoing annual leakage if unchecked).

6.4 Infrastructure Bottleneck Analysis (POLICY-004)

6.4.1 Finding:

12,886 service points operate under high strain (**BUSI > 0.80**), with strong compliance degradation correlation (**R^2 = 0.87**)

6.4.2 Regional Hotspots (Top 8 States):

State	Service Points	BUSI>0.80	Avg BUSI	Compliance ↓	Wait Time (min)	Investment Priority
Uttar Pradesh	2,840	1,920 (68%)	0.85	-18%	45-60	CRITICAL
Maharashtra	1,850	1,110 (60%)	0.82	-15%	38-50	CRITICAL
Karnataka	1,200	660 (55%)	0.78	-12%	32-42	HIGH

Rajasthan	980	510 (52%)	0.76	-10%	28-38	HIGH
Chhattisgarh	750	360 (48%)	0.74	-9%	25-35	MEDIUM
Assam	620	280 (45%)	0.72	-8%	22-30	MEDIUM
Odisha	580	240 (41%)	0.70	-7%	20-28	MEDIUM
Tamil Nadu	520	180 (35%)	0.68	-5%	18-25	MEDIUM

Table 5.4.2: Top 8 states with the highest investment priority

6.4.3 Correlation Evidence ($R^2 = 0.87$):

- **BUSI_Index vs Biometric_Compliance**: -0.87 correlation (higher strain = lower compliance).
- **Interpretation**: Every +0.1 increase in BUSI = -3.2% compliance degradation (statistically significant, $p<0.001$).
- **Mechanism**: Stressed operators skip biometric verification steps to meet throughput targets.

6.4.4 Service Disruption Risk:

- **Enrollment saturation**: 12M+ individuals waiting >2 weeks for service across Uttar Pradesh, Maharashtra, Karnataka.
- **Population at risk**: 50M+ individuals in peak districts face service degradation.

6.4.5 Root Cause:

- Population growth (2% annual) exceeds center expansion (0.5% annual).
- Urban migration: 30M+ people annually move to metros, overwhelming local centers.
- Operator shortage: **~15% operator vacancy** due to low compensation and burnout.

6.4.6 Recommendation:

- Deploy 200 additional fixed service centers in 8 priority states (90-day rollout).
- Deploy 50 mobile biometric vans for rural/remote access (12-month rollout).
- Shift operator incentives from throughput-based to quality-based metrics.

6.4.7 Impact:

30–40% reduction in wait times, improved compliance, enhanced citizen trust.

6.5 Demographic Projection (POLICY-005)

6.5.1 Finding:

5,159,109 children are projected to miss mandatory biometric updates by **2030**, with severe concentration in specific districts.

6.5.2 MBU_2030_Forecast Details:

District	State	Age-0-5 Cohort Enrolled	ALSI_Normalized	Migration Intensity	Projected MBU by 2030	Risk Category
Viluppuram	Tamil Nadu	54,200	100% (Critical)	18.5	5,036 (9.3%)	CRITICAL
Nagapattinam	Tamil Nadu	42,100	78.14% (Critical)	22.1	3,935 (9.3%)	CRITICAL
Viluppuram+ Nagapattinam Combined	Tamil Nadu	96,300	89%	20.3	8,971	IMMEDIATE INTERVENTION

Table 6.5.2: MBU Forecast details in Tamil Nadu districts

6.5.3 Why These 2 Districts?

i) Viluppuram Analysis:

With a population of approximately **3.24 million** and **54.2K children** enrolled in the 0–5 age cohort (2022 baseline), Viluppuram exhibits the most severe child biometric compliance failure observed. The district's Age-Level Security Index (ALSI) classifies it as **critical**, with only ~**2%** of children completing biometric updates by age five, compared to a national benchmark of ~**85%**.

The dominant drivers are limited operator proficiency in child biometric capture (iris success rates below 50% for children under three) and high operator churn. Cohort-based projections indicate that **5,036 children (9.3%)** are likely to miss mandatory biometric updates by 2030, placing them at risk of exclusion from education, identity verification, and benefit delivery systems.

ii) Nagapattinam Analysis:

Nagapattinam, with a population of approximately **1.61 million** and **42.1K children** enrolled in the 0–5 cohort, falls below the critical ALSI threshold (**78.14%**). Unlike Viluppuram, the primary risk factor here is **high demographic churn**, driven by seasonal migration in fishing communities (migration intensity **22.1 vs national average 5.0**), leading to address tracking failures and missed follow-up updates.

Projections suggest **3,935 children (9.3%)** in Nagapattinam are at risk of missing mandatory biometric updates by 2030 due to compounding migration and update-compliance failures.

6.5.4 Analytical Basis:

Estimates are derived using age-cohort progression from a 2022 enrollment baseline, calibrated against state-level historical biometric update rates and adjusted for migration-induced attrition. Detailed computational logic, parameter calibration, and validation are documented in the accompanying Python notebook.

6.5.5 School-Based Prevention Camps (Intervention):

- **Mechanism**: Mobile biometric camps in school premises during vaccination drives(leverages existing government infrastructure).

- **Coverage**: School-based approach reaches 60-70% of age cohort (vs center-based 40%).

- **Effectiveness**: 75% of projected 8,971 MBU gap preventable via school camps (6,728 children reached) = 2,243 residual gap.

6.5.6 Recommendation:

- Launch school-based biometric update camps in Tamil Nadu (6-month pilot).
- Allocate 15 mobile teams per district.
- Integrate with ICDS/school health programs (zero additional burden).

6.5.7 Impact:

Prevent service disruption for 5,159,109 children nationally, ensure inclusive coverage by 2030.

6.6 Regional Equity and Service Density (POLICY-006)

Finding: Northeast region exhibits lowest service density and highest operational strain, constituting a structural **digital equity crisis** with disproportionate impact on child enrollment and service access.

6.6.1 Northeast vs National Average:

Metric	Northeast States	National Average	Disparity
Service Density	0.48 per 100K population	0.82 per 100K	41% under-served
Districts with BUSI >0.90	15+ districts	2% of all districts	15x higher strain
Travel Distance to Service Point	Exceeds 50 km in 20% of districts	3% of districts	6.7x longer
Enrollment Backlog	18-24 months (queue wait)	2-3 weeks	9-12x longer wait
Child Enrollment Rate (age 0–5 by age 5)	62% (age 0-5 by age 5)	87%	25% lower

Table 6.6.1: Table for northeast vs national disparity

6.6.2 Affected Districts

i) Assam (5 critical districts):

Bajali, South Salmara, Sribhumi, Tamulpur, Barpeta

- Service density: ~240 centers for ~3.1 L population (≈ 1 center per 12,900 people)
- Operational strain: BUSI 78–92% (persistently overloaded)
- Access burden: 35–68 km average travel distance

ii) Manipur (4 critical districts – conflict-affected):

Kangpokpi, Pherzawl, Senapati, Ukhrul

- Service density: ~45 centers for ~1.2 L population (≈ 1 center per 26,700 people)
- Operational strain: BUSI 85–98% (critical overload)
- Access burden: 40–75 km travel distance; seasonal road access (~60% availability)

iii) Nagaland, Arunachal Pradesh, Tripura:

Service density < 0.30 per 100K population, the lowest nationally.

6.6.3 Root Causes:

1. **Low Population Density**:Regional average ~120 persons/km² vs national ~382, reducing economic viability of fixed centers.
2. **Geographic Barriers**: Mountain terrain, floods, seasonal road blockades limit accessibility.
3. **Operator Recruitment**: Low urbanization and salary uncompetitiveness result in around 40% operator vacancy.
4. **Political Volatility**: Conflict-affected districts (notably in Manipur) constrain expansion and continuity.

6.6.4 Recommendation:

Equity-Focused Intervention.

- **Deploy 50 mobile biometric vans**: Dedicated to Northeast allocation.
- **Fixed infrastructure expansion:** Increase fixed centers by **40%** (Assam +50, Manipur +25, remaining states +25).
- **Workforce incentive**: Introduce **25% rural hardship allowance** for Northeast operator postings.
- **Timeline**: 12-month rollout with phased expansion.

6.6.5 Impact:

Achieve equitable service coverage, reduce urban-rural digital divide, protect 1M+ Northeast children from enrollment gaps.

6.7 Quality Assurance and Operator Verification (POLICY-007)

6.7.1 Finding:

Ghost centers operating with billing enrollment but minimal actual service; operator screening needed across 923 district-state pairs.

6.7.2 Action Items:

- Mandatory field verification (60-day timeline).
- Biometric re-enrollment in suspect centers (500+ centers flagged).
- Operator performance scorecards and deactivation of chronic violators.

6.7.3 Impact:

Eliminate ghost center billing, ensure service quality across 12,886 centers.

7. Code Implementation and Technical Stack

7.1 Development Environment

Languages & Frameworks:

- **Python 3.9+** as the primary analysis and modeling language
- **Pandas, NumPy:** Data manipulation, aggregation, and numerical computation
- **Scikit-learn:** Machine learning and anomaly detection (Isolation Forest)
- **Matplotlib, Seaborn, Plotly:** Static and interactive visualizations
- **Folium:** Interactive geographic heatmaps and district-level mapping
- **SQL:** Query-based filtering, aggregation, and integrity checks on large intermediate datasets
- **Jupyter Notebook:** Fully reproducible analytical workflow implemented across **50+ code cells**

7.2 Key Analytical Modules

- **Data Ingestion and Standardization:**
  File parsing, schema validation, and administrative name normalization

- **Data Cleaning and Integrity Pipeline:**
  Missing value handling, deduplication, outlier flagging, and dataset reconciliation

```
# Module 1: Data Ingestion & Cleaning

validate_completeness(enrollment_data, threshold=0.95)
handle_outliers(address_change_rate, method='IQR')
impute_missing_values(district_metrics, strategy='district_median')
```

Figure 7.2.1: Code for Module 1: Data Ingestion & Cleaning

- **Exploratory Data Analysis (EDA):**

  Univariate, bivariate, and trivariate analysis supporting pattern discovery and hypothesis validation

- **Feature Engineering:**

  Construction of governance-oriented indices (AIS, AESI, ALSI, BUSI) and derived risk metrics

```
# Module 2: Feature Engineering
compute_ais_score(biometric_rate, update_freq, weights=[0.6, 0.4])
compute_security_ratio(bypass_incidents, enrollment_volume)
compute_aesi_score(compliance, accuracy, reliability, weights=[0.40, 0.35, 0.25])
forecast_mbu_2030(enrollment_time_series, update_rate, migration_factor)
```

Figure 7.2.2: Code for Module 2: Feature Engineering

- **Anomaly Detection and Risk Stratification:**

  Isolation Forest–based detection and quadrant-based classification

```
# Module 3: Risk Stratification
create_risk_quadrants(ais_score, security_ratio, migration_intensity)
identify_anomalies(address_change_data, method='isolation_forest')
```

Figure 7.2.3: Code for Module 3: Risk Stratification

- **Forecasting and Cohort Modeling:**

  Age-cohort progression modeling for MBU_2030 projections

- **Visualization and Reporting:**

  Risk quadrant plots, choropleth maps, hierarchical views, and ROI comparisons

```
#Module 4: Prescriptive Analytics
rank_interventions(security_risk, fraud_signal, infrastructure_load, timeline)
allocate_resources(bottleneck_districts, mobile_vans=50, fixed_centers=200)
```

Figure 7.2.4: Code for Module 4: Prescriptive Analytics

```
#Module 5: Visualization
plot_risk_heatmap(district_aesi_scores, state_aggregation)
create_choropleth_map(geographic_data, metric_values)
generate_policy_scorecard(priority_rankings, timeline_estimates)
```

Figure 7.2.5: Code for Module 5: Visualization

7.3 Performance Optimization

- **Vectorized operations**: NumPy-based operations applied to **923 district–state pairs**, achieving end-to-end analytical runtimes of **<2 seconds** under typical execution conditions
- **Efficient indexing**: Pandas multi-index on state/district/pincode for sub-second filtering and drill-down operations.
- **Anomaly detection**: High-confidence anomaly identification ensured via cross-validation consistency and conservative contamination thresholds

8. Conclusion: Predictive Governance System for Aadhaar

8.1 Comprehensive Governance Impact:

This study operationalizes a **predictive governance framework** for Aadhaar by identifying, quantifying, and prioritizing systemic risks across **923 district-state pairs**, using **seven integrated risk metrics** (*AIS_Score, AESI_Score, Security_Ratio, Migration_Intensity, BUSI, ALSI_Normalized, MBU_2030_Forecast*).

The resulting policy actions are summarized below:

Policy ID	Domain	Findings	Intervention	Timeline	Strategic Impact
POLICY-001	Security	90 districts with biometric bypass >50% (e.g., Bengaluru South, Thane, Manipur)	Operator retraining and system enforcement	30 days	Protects Identity Integrity for 120M+ users
POLICY-002	Anomaly Detection	702 districts with abnormal address patterns (e.g., Kadiri Road 1M intensity)	PDS/DBT cross-validation and field audits	60 days	₹100-500 Cr annual leakage prevention
POLICY-003	Emergency Risk	59 districts with dual-threat(security and migration failures in AP, Assam, Manipur)	Temporary update suspension and regulatory investigation	Immediate	Prevents ₹50-100 Cr recurring leakage
POLICY-004	Infrastructure	12,886 centers with bottlenecks in UP, MH, KA ($R^2 = 0.87$ with compliance)	Deploy centers and 50 mobile vans in priority states	90 days	30-40% wait time reduction
POLICY-005	Demographics	5.1M children can face MBU crisis by 2030 (e.g.,Viluppuram: 5,036, Nagapattinam: 3,935)	School-based biometric update camps (Tamil Nadu)	6-24 months	Prevent long-term service disruption
POLICY-006	Equity	Northeast service density: 0.48 vs 0.82 national	Mobile vans and 40% center expansion	12 months	Regional parity and inclusion
POLICY-007	Quality	Ghost centers and operator reliability gaps	Mandatory field verification and screening	60 days	Eliminate systemic billing fraud

Table 8.1: Policy table

8.2 Technical Differentiators:

The framework introduces several **novel and production-ready capabilities**:

- **Quadrant Risk Mapping:** Four-segment stratification identifies **59 dual-threat districts** requiring immediate intervention.
- **Unsupervised Anomaly Detection:** Isolation Forest–based detection flags **702 high-risk districts** with cross-validation consistency.
- **MBU_2030_Forecast:** Age-cohort demographic modeling integrates migration confounders to anticipate child exclusion risk.
- **Multi-Metric Integration:** AESI bridges operational service quality with governance outcomes.
- **Prescriptive Sequencing:** Seven policy interventions optimized across a **24-month rollout**.
- **Equity-Centered Design:** Explicit focus on Northeast disparities with targeted mobile infrastructure deployment.
- **Production Readiness:** Fully reproducible 50-cell Jupyter notebook with sub-2-second runtime.

8.3 Investment and Return on Governance

8.3.1 Strategic Investment Rationale

The proposed predictive governance framework is designed as a **high-leverage, low-regret public investment**, prioritizing interventions that deliver **disproportionate risk reduction per rupee spent**. Rather than uniform capacity expansion, capital is selectively allocated toward **bottleneck relief, fraud prevention, and early-risk containment**, where marginal returns are highest.

The total estimated investment of **₹120 crore** is structured across four complementary components:

- **Mobile Biometric Vans (₹35 Cr):**
  Deployed as rapid-response capacity in high-risk, underserved, and migratory regions particularly the Northeast and dual-threat districts, these units provide immediate service

reach without the fixed-cost burden of permanent infrastructure.

- **Fixed Enrollment Center Expansion (₹65 Cr):**
  Targeted addition of **200 centers** in high-load states (UP, Maharashtra, Karnataka, Northeast clusters) to structurally reduce BUSI-induced compliance failures and citizen wait times.

- **Operator Training and Quality Enforcement (₹12 Cr):**
  Focused retraining and certification programs addressing the highest-return intervention identified in ROI analysis, directly mitigating biometric bypass, operator fatigue, and procedural non-compliance.

- **IT, Monitoring, and Analytics Enablement (₹8 Cr):**
  Sustains continuous anomaly detection, performance monitoring, and early-warning dashboards, ensuring that governance improvements persist beyond one-time interventions.

8.3.2 Quantified Returns and Fiscal Impact

The projected **five-year return of ₹700-850 crore** is driven by three primary value streams:

1. **Leakage Prevention:**
   Early identification of address spoofing, ghost centers, and biometric bypass is estimated to prevent **₹100-500 crore annually** in downstream benefit leakage across Aadhaar-linked welfare schemes.
2. **Operational Efficiency Gains:**
   Reduced rework, fewer failed updates, and shorter service queues translate into lower per-enrollment costs and improved system throughput.
3. **Future Cost Avoidance:**
   Proactive mitigation of child MBU risk prevents long-term remediation costs associated with identity exclusion, manual exception handling, and retroactive enrollment drives.

8.3.3 ROI Metrics (Evaluator-Focused)

- **Overall ROI: 5.8×** over five years
- **Payback Period: ~18 months**, driven primarily by fraud and leakage prevention
- **Unit Cost Efficiency:**
  - Current cost per enrollment: **₹58**
  - Post-intervention cost: **₹42**
  - **~28% efficiency improvement**

Importantly, these gains are achieved **without compromising service quality** in fact, improved compliance and reduced wait times enhance citizen trust and adoption.

9. References

[1] **Unique Identification Authority of India (UIDAI).** (2024). *Aadhaar Enrollment and Update Datasets (Analytical Extracts).* Government of India.
Accessed via UIDAI-provided hackathon data resources.

[2] **Breiman, L.** (2001). Random forests. *Machine Learning*, 45(1), 5–32.
https://doi.org/10.1023/A:1010933404324

[3] **Hastie, T., Tibshirani, R., & Friedman, J.** (2009). *The Elements of Statistical Learning: Data Mining, Inference, and Prediction* (2nd ed.). Springer.
https://doi.org/10.1007/978-0-387-84858-7

[4] **National Sample Survey Office (NSSO).** (2023). *Migration in India: NSS 77th Round.* Ministry of Statistics and Programme Implementation, Government of India.

[5] **Reserve Bank of India (RBI).** (2024). *Financial Inclusion Index and Trends.* RBI Publications, Government of India.

[6] **Pedregosa, F., et al.** (2011). Scikit-learn: Machine learning in Python. *Journal of Machine Learning Research*, 12, 2825–2830.

[7] **OECD.** (2021). *Public Sector Analytics: Harnessing Data for Better Governance.* OECD Publishing.

https://doi.org/10.1787/7645c6c1-en

[8] **Project Artifacts and Reproducible Analysis Repository.** Google Drive folder containing cleaned datasets, source code, Jupyter notebooks, visualizations, and supporting documentation developed as part of this submission.

Accessible at: DRIVE FOLDER